Citywide Overview

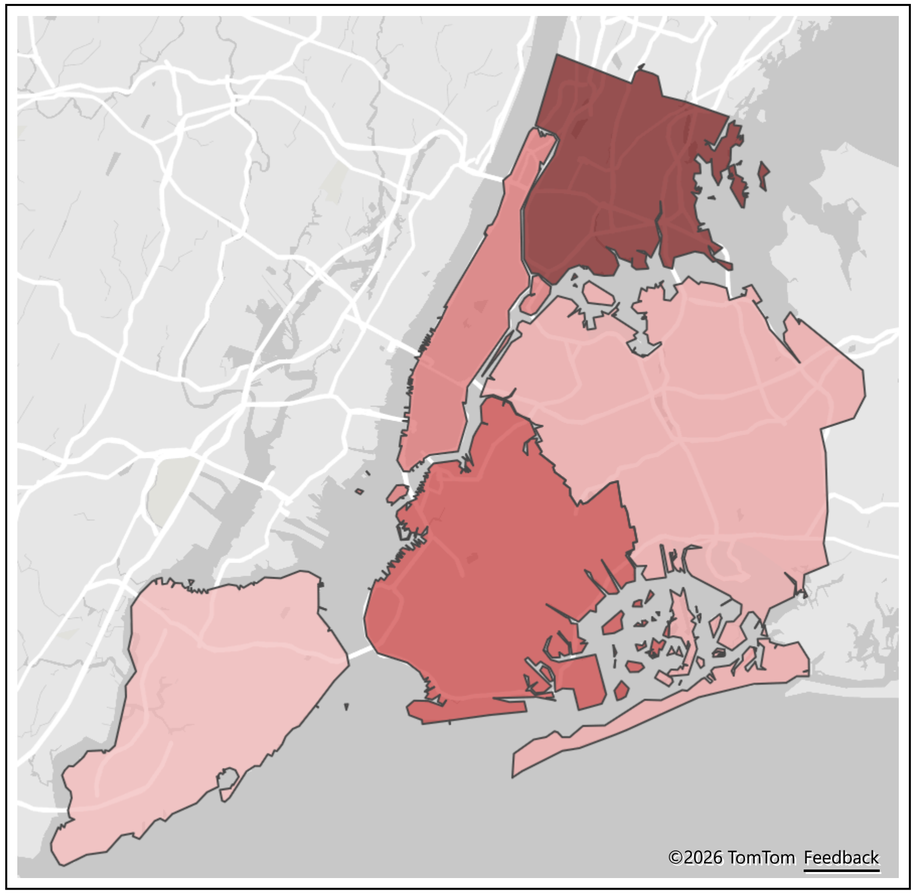

Citywide Stats

% in Poverty	Children in Poverty	Total Unemployed	Enrolled in SNAP
17.9 %	403K	353K	21.2 %

Borough Percentages from Census ACS 2024 (5-Year)

County	% in Poverty	% in Poverty (Children)	% in Poverty (Women)	% in Poverty (Black)	% in Poverty (Asian)	% in Poverty (Hispanic)	% Unemployed	% Enrolled in SNAP
Bronx	27.8%	35.9%	29.3%	26.8%	16.5%	31.3%	11.4%	38.6%
Brooklyn	19.1%	26.1%	20.0%	20.5%	18.8%	24.6%	7.9%	22.9%
Manhattan	16.5%	20.9%	17.5%	31.1%	16.7%	25.6%	7.6%	14.4%
Queens	12.9%	15.8%	14.2%	13.7%	14.0%	15.1%	7.3%	15.9%
Staten Island	11.5%	14.5%	12.3%	24.3%	13.3%	17.4%	5.6%	13.4%

Populations from Census ACS 2024 (5-Year)

County	People in Poverty	Children in Poverty	Women in Poverty	Blacks in Poverty	Asians in Poverty	Hispanics in Poverty	Unemployed	SNAP Households
Brooklyn	498,422	150,832	273,190	147,910	59,767	121,606	107,125	231,191
Bronx	382,447	119,607	213,334	120,334	9,471	239,346	72,776	206,275
Queens	296,381	70,276	166,722	53,404	84,353	97,065	87,810	133,911
Manhattan	260,843	46,407	143,718	66,918	31,697	99,490	71,989	112,143
Staten Island	56,286	15,378	30,698	11,542	8,371	16,735	13,361	22,806
Total	**1,494,379**	**402,500**	**827,662**	**400,108**	**193,659**	**574,242**	**353,061**	**706,326**

Poverty Stats from Census ACS 2024 (5-Year)

County	People in Poverty	Total Pop.	% in Poverty	Median HH Income
Bronx	382,447	1,374,967	27.8%	48,649
Brooklyn	498,422	2,604,790	19.1%	80,589
Manhattan	260,843	1,578,522	16.5%	104,970
Queens	296,381	2,296,816	12.9%	86,772
Staten Island	56,286	490,009	11.5%	98,297
Total	**1,494,379**	**8,345,104**		

Annual Visits to Emergency Food Providers

County	FY24 Visits	FY25 Visits
Bronx	7,422,884	7,861,919
Brooklyn	12,671,122	13,041,614
Manhattan	6,987,882	7,111,530
Queens	11,063,903	11,314,210
Staten Island	1,278,337	1,214,799
Total	**39,424,128**	**40,544,072**

Meals Provided by FBNYC

County	Dist Meals FY24	Dist Meals FY25
Bronx	22,832,163	22,006,377
Brooklyn	28,047,181	26,231,281
Manhattan	11,658,607	10,497,115
Queens	27,671,732	26,305,585
Staten Island	2,737,716	2,664,414
Total	**92,947,399**	**87,704,772**

Bronx Profile

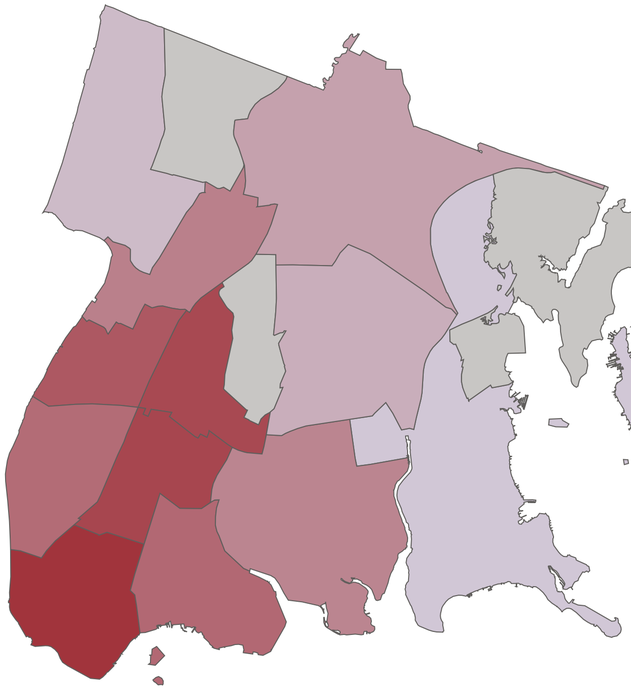

27.8% People in Poverty	**35.9%** Children in Poverty
29.3% Women in Poverty	**38.6%** Enrolled in SNAP

Census Stats - ACS 2024 (5-Year)

CDTA	Neighborhoods	Total Pop.	People in Poverty	% in Poverty	Est. SNAP HH	% Enrolled in SNAP	Median HH Income
BX01	Mott Haven, Port Morris, and ...	97,351	41,157	42.3%	20,779	54.6%	29,384
BX02	Hunts Point, Longwood, Morr...	53,479	17,261	32.3%	10,477	52.6%	39,095
BX03	Morrisania, Tremont, Belmont...	90,290	35,031	38.8%	18,764	54.8%	34,161
BX04	Highbridge & Concourse	144,649	45,708	31.6%	26,250	46.2%	44,799
BX05	Morris Heights & Mount Hope	130,164	46,018	35.4%	24,764	52.4%	36,811
BX06	Morrisania, Tremont, Belmont...	82,390	31,498	38.2%	18,177	56.6%	32,578
BX07	Bedford Park, Fordham North...	129,174	35,932	27.8%	20,672	39.9%	45,021
BX08	Riverdale, Kingsbridge, & Mar...	99,820	16,569	16.6%	8,438	19.8%	78,762
BX09	Soundview & Parkchester	167,412	44,929	26.8%	21,422	33.8%	48,700
BX10	Co-op City & Throgs Neck	124,099	17,572	14.2%	9,614	19.0%	69,452
BX11	Pelham Parkway & Morris Park	110,406	20,992	19.0%	11,819	27.6%	65,013
BX12	Wakefield, Williamsbridge, & ...	155,800	33,522	21.5%	16,525	28.7%	68,215
Total		**1,385,034**	**386,189**		**207,701**		

Visits to EFPs and Meals Provided by FBNYC

CDTA	Neighborhoods	FY24 Visits	FY25 Visits	Dist Meals FY24	Dist Meals FY25
BX01	Mott Haven, Port Morris, and Melrose	1,050,389	1,138,282	2,096,918	2,035,687
BX02	Hunts Point, Longwood, Morrisania	940,331	1,046,738	2,251,993	2,001,528
BX03	Morrisania, Tremont, Belmont, & West Farms	909,341	827,581	2,961,721	3,057,560
BX04	Highbridge & Concourse	555,311	586,250	2,681,141	2,574,588
BX05	Morris Heights & Mount Hope	614,501	955,107	2,398,588	2,693,151
BX06	Morrisania, Tremont, Belmont, & West Farms	397,426	326,893	2,418,806	2,169,934
BX07	Bedford Park, Fordham North & Norwood	1,308,008	1,404,116	2,391,497	1,983,843
BX08	Riverdale, Kingsbridge, & Marble Hill	63,919	56,884	199,911	146,662
BX09	Soundview & Parkchester	490,356	526,225	1,442,551	1,769,942
BX10	Co-op City & Throgs Neck	184,018	257,192	917,254	781,874
BX11	Pelham Parkway & Morris Park	77,690	82,570	596,588	595,045
BX12	Wakefield, Williamsbridge, & Eastchester	744,780	550,556	2,475,195	2,181,992
Total		**7,336,070**	**7,758,394**	**22,832,163**	**21,991,807**

Brooklyn Profile

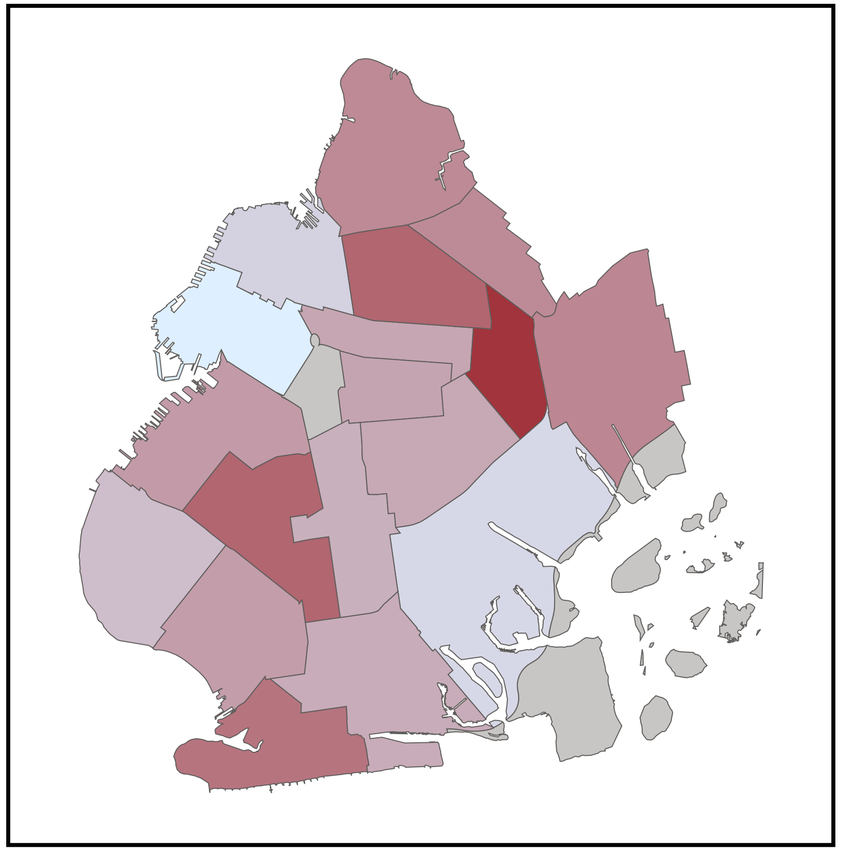

19.1% People in Poverty	**26.1%** Children in Poverty
20.0% Women in Poverty	**22.9%** Enrolled in SNAP

Census Stats - ACS 2024 (5-Year)

CDTA	Neighborhoods	Total Pop.	People in Poverty	% in Poverty	Est. SNAP HH	% Enrolled in SNAP	Median HH Income
BK01	Greenpoint & Williamsburg	207,274	44,025	21.2%	17,626	20.6%	104,901
BK02	Brooklyn Heights & Fort Gree...	122,267	14,891	12.2%	6,704	10.9%	147,049
BK03	Bedford-Stuyvesant	182,102	46,900	25.8%	18,098	25.3%	81,810
BK04	Bushwick	112,206	23,613	21.0%	10,580	23.3%	85,143
BK05	East New York & Starrett City	196,964	42,644	21.7%	27,114	37.7%	55,444
BK06	Park Slope, Carroll Gardens &...	119,163	10,081	8.5%	4,779	9.2%	169,988
BK07	Sunset Park & Windsor Terrace	117,928	22,418	19.0%	8,100	19.7%	89,114
BK08	Crown Heights North & Pros...	108,962	19,305	17.7%	8,849	18.2%	92,720
BK09	Crown Heights South, Prospe...	97,036	17,402	17.9%	8,786	21.7%	77,532
BK10	Bay Ridge & Dyker Heights	123,973	18,221	14.7%	7,127	14.5%	89,819
BK11	Bensonhurst & Bath Beach	180,208	33,863	18.8%	15,609	25.0%	69,791
BK12	Borough Park, Kensington	194,659	50,064	25.7%	16,262	29.5%	67,455
BK13	Coney Island & Brighton Beach	109,642	26,289	24.0%	17,593	37.7%	45,780
BK14	Flatbush & Midwood	153,819	25,313	16.5%	12,612	21.2%	81,411
BK15	Sheepshead Bay & Gravesen...	151,218	25,492	16.9%	12,266	20.9%	72,248
BK16	Brownsville & Ocean Hill	98,565	31,561	32.0%	15,669	41.7%	45,009
BK17	East Flatbush, Farragut & Rug...	148,823	25,951	17.4%	13,212	22.6%	68,462
BK18	Canarsie & Flatlands	179,967	20,389	11.3%	10,206	16.0%	88,347
Total		**2,604,776**	**498,422**		**231,192**		

Visits to EFPs and Meals Provided by FBNYC

CDTA	Neighborhoods	FY24 Visits	FY25 Visits	Dist Meals FY24	Dist Meals FY25
BK01	Greenpoint & Williamsburg	238,675	339,164	1,113,000	1,506,043
BK02	Brooklyn Heights & Fort Greene	431,183	442,641	1,316,393	1,145,869
BK03	Bedford-Stuyvesant	1,564,050	1,441,066	2,458,552	2,410,792
BK04	Bushwick	437,012	501,103	917,455	906,683
BK05	East New York & Starrett City	1,213,975	1,241,931	6,074,111	5,551,975
BK06	Park Slope, Carroll Gardens & Red Hook	447,665	472,843	478,670	352,024
BK07	Sunset Park & Windsor Terrace	186,136	193,468	195,197	293,253
BK08	Crown Heights North & Prospect Heights	146,202	147,526	741,233	723,493
BK09	Crown Heights South, Prospect Lefferts & Wingate	568,944	550,675	1,122,276	1,169,002
BK10	Bay Ridge & Dyker Heights	143,693	179,588	34,889	14,827
BK11	Bensonhurst & Bath Beach	124,912	113,466	751,762	464,052
BK12	Borough Park, Kensington	636,383	802,120	1,549,850	1,562,399
BK13	Coney Island & Brighton Beach	446,555	445,217	1,501,401	1,367,381
BK14	Flatbush & Midwood	1,292,032	873,561	1,013,101	858,741
BK15	Sheepshead Bay & Gravesend (East)	184,854	190,264	260,064	362,126
BK16	Brownsville & Ocean Hill	954,540	997,861	1,555,283	1,830,323
BK17	East Flatbush, Farragut & Rugby	1,149,684	1,147,199	3,108,683	2,738,756
BK18	Canarsie & Flatlands	2,504,627	2,961,921	3,851,519	2,973,543
Total		**12,671,122**	**13,041,614**	**28,043,439**	**26,231,281**

Queens Profile

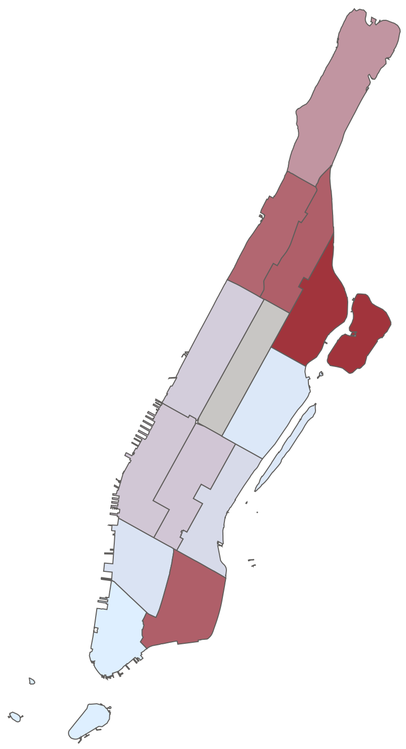

16.5% People in Poverty	**20.9%** Children in Poverty
17.5% Women in Poverty	**14.4%** Enrolled in SNAP

Census Stats - ACS 2024 (5-Year)

CDTA	Neighborhoods	Total Pop.	People in Poverty	% in Poverty	Est. SNAP HH	% Enrolled in SNAP	Median HH Income
MN01	Financial District & Greenwic...	67,276	4,450	6.6%	1,016	3.1%	202,374
MN02	Financial District & Greenwic...	79,223	6,507	8.2%	1,617	3.5%	162,767
MN03	Chinatown & Lower East Side	148,297	38,685	26.1%	19,575	26.5%	59,492
MN04	Chelsea & Hell's Kitchen	116,070	14,001	12.1%	6,648	9.7%	116,964
MN05	Midtown, East Midtown, & Fl...	49,082	5,937	12.1%	1,835	6.3%	173,064
MN06	Midtown, East Midtown, & Fl...	139,329	13,194	9.5%	3,398	4.4%	149,213
MN07	Upper West Side & West Side	216,721	24,399	11.3%	7,040	6.5%	144,447
MN08	Upper East Side & Roosevelt ...	209,363	15,741	7.5%	4,969	4.5%	154,631
MN09	Morningside Heights & Hami...	100,502	25,132	25.0%	9,606	23.4%	62,482
MN10	Harlem	134,342	34,943	26.0%	15,519	26.4%	57,287
MN11	East Harlem	124,293	39,594	31.9%	18,116	32.9%	42,579
MN12	Washington Heights, Inwood...	183,771	34,500	18.8%	21,375	29.7%	67,203
Total		**1,568,269**	**257,083**		**110,714**		

Visits to EFPs and Meals Provided by FBNYC

CDTA	Neighborhoods	FY24 Visits	FY25 Visits	Dist Meals FY24	Dist Meals FY25
MN01	Financial District & Greenwich Village	161,293	166,995	63,627	55,300
MN02	Financial District & Greenwich Village	140,112	103,828	206,499	204,704
MN03	Chinatown & Lower East Side	966,916	975,080	1,230,603	915,470
MN04	Chelsea & Hell's Kitchen	740,041	710,604	679,288	509,451
MN05	Midtown, East Midtown, & Flatiron	157,304	147,588	238,003	196,215
MN06	Midtown, East Midtown, & Flatiron	262,236	268,971	195,241	160,677
MN07	Upper West Side & West Side	699,770	735,565	629,183	262,708
MN08	Upper East Side & Roosevelt Island	242,277	273,199	1,089,277	1,089,682
MN09	Morningside Heights & Hamilton Heights	459,641	483,686	625,714	873,712
MN10	Harlem	1,343,435	976,492	3,642,849	2,910,689
MN11	East Harlem	988,801	1,221,051	1,266,828	1,821,714
MN12	Washington Heights, Inwood & Marble Hill	826,056	1,048,471	1,791,496	1,496,794
Total		**6,987,882**	**7,111,530**	**11,658,607**	**10,497,115**

Queens Profile

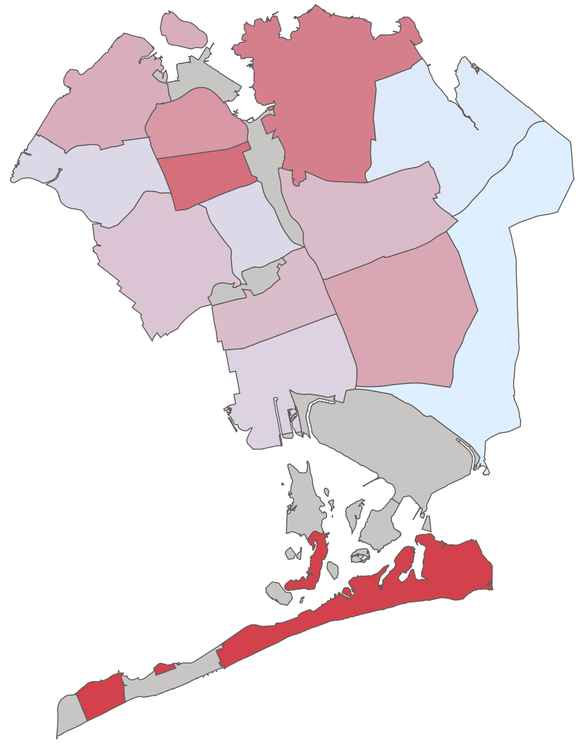

12.9% People in Poverty	**15.8%** Children in Poverty
14.2% Women in Poverty	**15.9%** Enrolled in SNAP

Census Stats - ACS 2024 (5-Year)

CDTA	Neighborhoods	Total Pop.	People in Poverty	% in Poverty	Est. SNAP HH	% Enrolled in SNAP	Median HH Income
QN01	Astoria & Queensbridge	176,027	22,866	13.0%	10,726	13.1%	90,464
QN02	Long Island City, Sunnyside, ...	123,604	12,514	10.1%	5,170	9.3%	94,527
QN03	Jackson Heights & East Elmh...	160,203	23,164	14.5%	11,379	21.1%	79,582
QN04	Elmhurst & Corona	165,069	28,386	17.2%	13,884	26.0%	69,850
QN05	Ridgewood, Maspeth, & Mid...	175,890	20,091	11.4%	8,069	12.3%	89,883
QN06	Forest Hills & Rego Park	122,749	12,432	10.1%	6,725	12.5%	99,368
QN07	Flushing, Murray Hill & White...	246,469	39,657	16.1%	13,506	14.3%	72,479
QN08	Briarwood, Fresh Meadows &...	146,232	17,717	12.1%	8,499	15.1%	85,760
QN09	Kew Gardens, Richmond Hill, ...	145,073	17,447	12.0%	8,247	17.6%	89,140
QN10	South Ozone Park & Howard ...	135,088	14,236	10.5%	7,332	17.6%	96,209
QN11	Auburndale, Bayside, & Doug...	119,306	10,681	9.0%	3,709	8.2%	105,831
QN12	Jamaica, St. Albans, & Hollis	251,231	33,914	13.5%	16,315	20.3%	77,973
QN13	Queens Village, Bellerose, & ...	202,397	17,436	8.6%	7,994	12.3%	110,370
QN14	The Rockaways	127,454	25,840	20.3%	12,355	26.5%	68,348
Total		**2,296,792**	**296,381**		**133,910**		

Visits to EFPs and Meals Provided by FBNYC

CDTA	Neighborhoods	FY24 Visits	FY25 Visits	Dist Meals FY24	Dist Meals FY25
QN01	Astoria & Queensbridge	2,174,923	2,474,075	2,174,881	1,459,971
QN02	Long Island City, Sunnyside, & Woodside	520,786	605,428	1,614,029	1,326,587
QN03	Jackson Heights & East Elmhurst	677,486	649,297	1,210,650	1,289,549
QN04	Elmhurst & Corona	145,437	149,156	154,778	239,048
QN05	Ridgewood, Maspeth, & Middle Village	1,120,793	1,145,505	1,128,285	1,246,940
QN06	Forest Hills & Rego Park	342,007	284,841	789,413	724,413
QN07	Flushing, Murray Hill & Whitestone	525,539	574,176	269,142	233,848
QN08	Briarwood, Fresh Meadows & Hillcrest	459,460	470,955	354,850	307,185
QN09	Kew Gardens, Richmond Hill, & Woodhaven	1,223,074	1,158,226	5,133,055	4,750,691
QN10	South Ozone Park & Howard Beach	392,691	467,164	3,142,421	3,061,367
QN11	Auburndale, Bayside, & Douglaston	22,510	22,402	72,138	38,007
QN12	Jamaica, St. Albans, & Hollis	2,467,231	2,282,796	7,174,654	6,372,746
QN13	Queens Village, Bellerose, & Rosedale	672,465	639,590	3,465,041	3,647,007
QN14	The Rockaways	288,279	358,421	955,859	1,604,325
QN81	-	16,540		32,538	
Total		**11,049,221**	**11,282,032**	**27,671,732**	**26,301,683**

Staten Island Profile

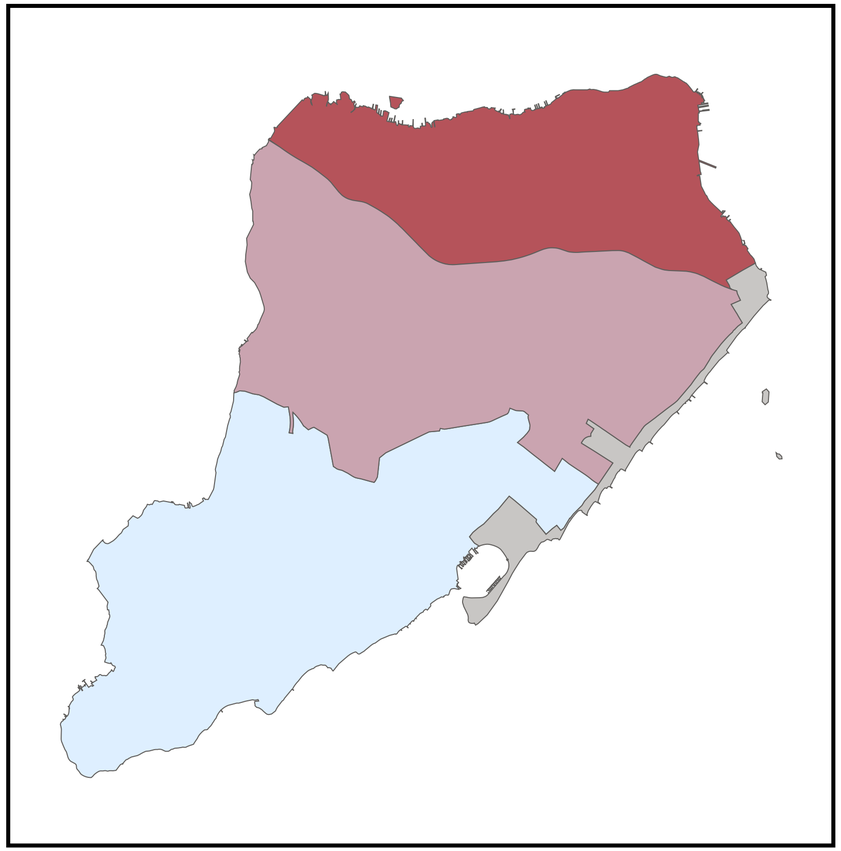

11.5% People in Poverty	**14.5%** Children in Poverty
12.3% Women in Poverty	**13.4%** Enrolled in SNAP

Census Stats - ACS 2024 (5-Year)

CDTA	Neighborhoods	Total Pop.	People in Poverty	% in Poverty	Est. SNAP HH	% Enrolled in SNAP	Median HH Income
SI01	North Shore	180,244	29,305	16.3%	12,672	20.0%	86,448
SI02	Mid-Island	138,756	15,610	11.3%	5,642	11.7%	94,043
SI03	South Shore	170,507	11,333	6.7%	4,487	7.6%	116,578
SI95	-	502	38	7.6%	5	2.9%	73,676
Total		**490,009**	**56,286**		**22,806**		

Visits to EFPs and Meals Provided by FBNYC

CDTA	Neighborhoods	FY24 Visits	FY25 Visits	Dist Meals FY24	Dist Meals FY25
SI01	North Shore	1,125,818	1,084,910	2,437,327	2,464,060
SI02	Mid-Island	115,261	101,288	269,189	153,927
SI03	South Shore	37,258	28,601	31,200	46,428
Total		**1,278,337**	**1,214,799**	**2,737,716**	**2,664,414**